数据更新变换实习

1|白水县行政范围提取

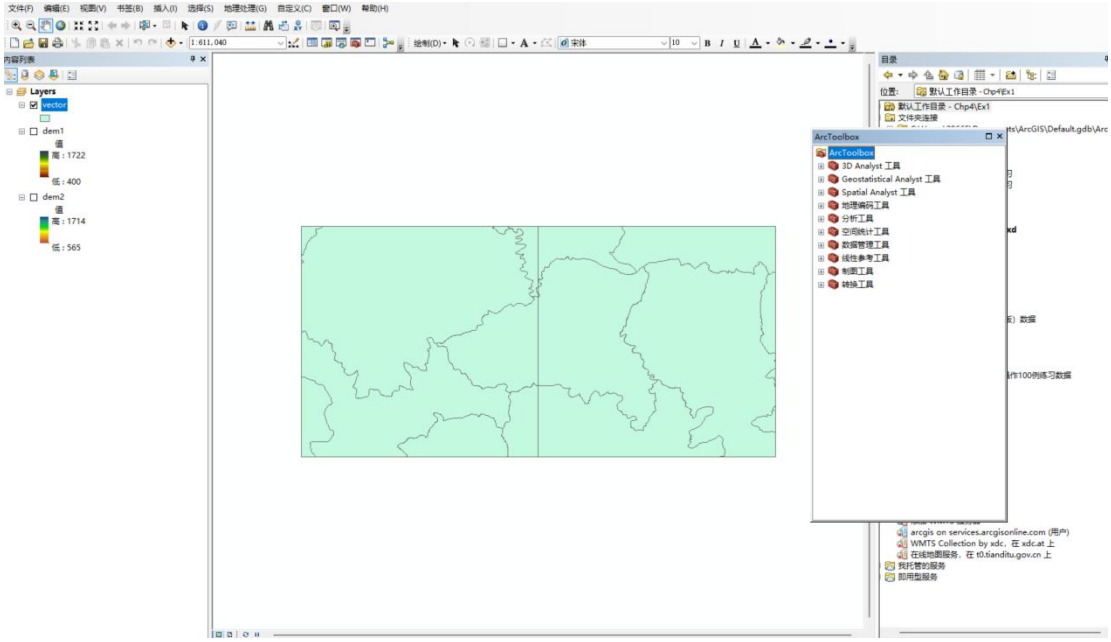

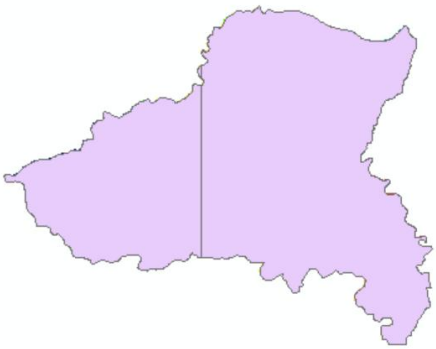

2|DEM 数据拼接

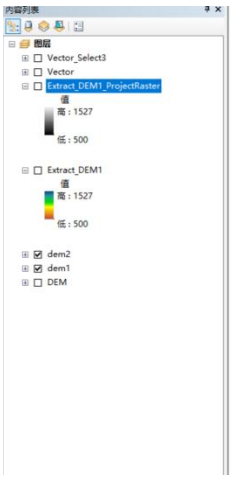





3|白水县 DEM 数据裁切

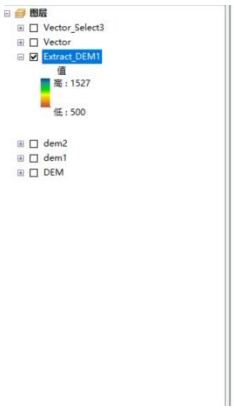

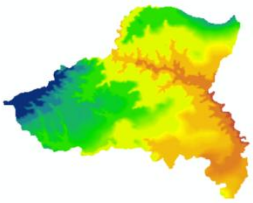

4| 白水县 DEM 的投影变换

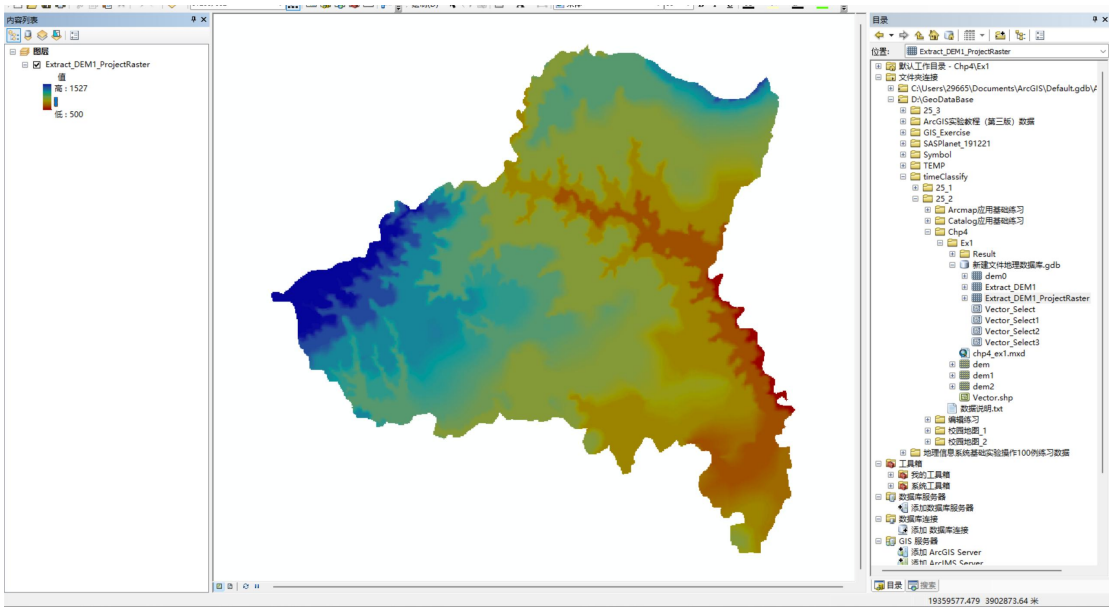
内容列表
图层
Extract_DEM1_ProjectRaster
值
高 : 1527
低 : 500
目录
位置:
Extract_DEM1_ProjectRaster
默认工作目录 - Chp4\Ex1
文件夹连接
C:\Users\29665\Documents\ArcGIS\Default.gdb\
D:\GeoDataBase
25_3
ArcGIS实验教程（第三版）数据
GIS_Exercise
SASPlanet_191221
Symbol
TEMP
timeClassify
25_1
25_2
Arcmap应用基础练习
Catalog应用基础练习
Chp4
Ex1
Result
新建文件地理数据库.gdb
dem0
Extract_DEM1
Extract_DEM1_ProjectRaster
Vector_Select
Vector_Select1
Vector_Select2
Vector_Select3
chp4_ex1.mxd
dem
dem1
dem2
Vector.shp
数据说明.txt
编辑练习
校园地图_1
校园地图_2
地理信息系统基础实验编(E100)练习数据
工具箱
我的工具箱
系统工具箱
数据库服务器
添加数据库服务器
数据库连接
添加 数据库连接
GIS 服务器
添加 ArcGIS Server
目录
搜索
19359577.479 3902873.64 米