1 配置工作环境

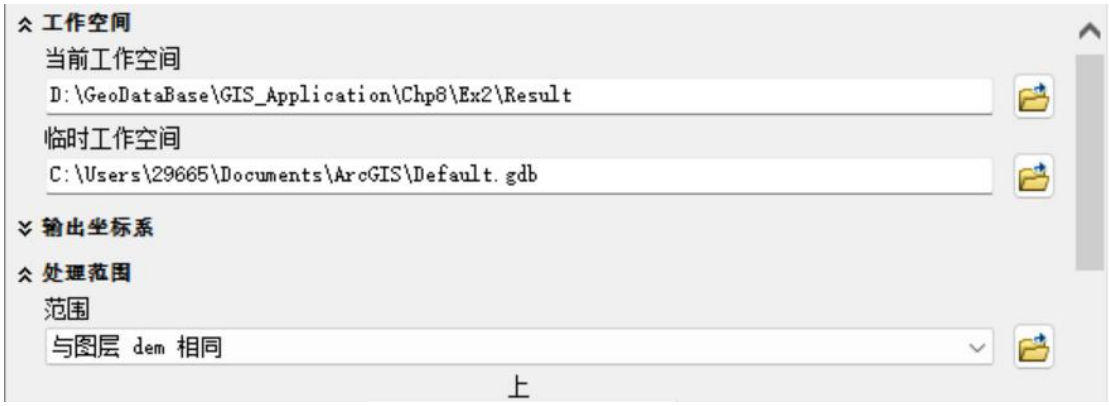

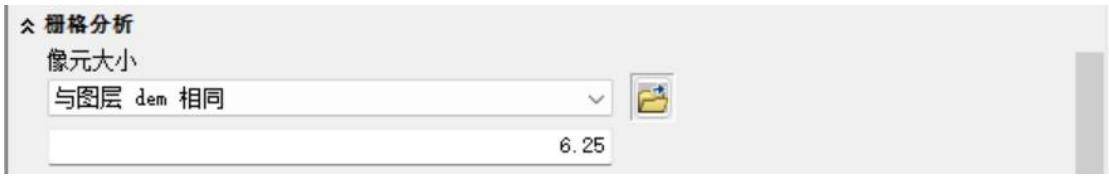

2 创建成本数据集

2.1 创建坡度成本数据集

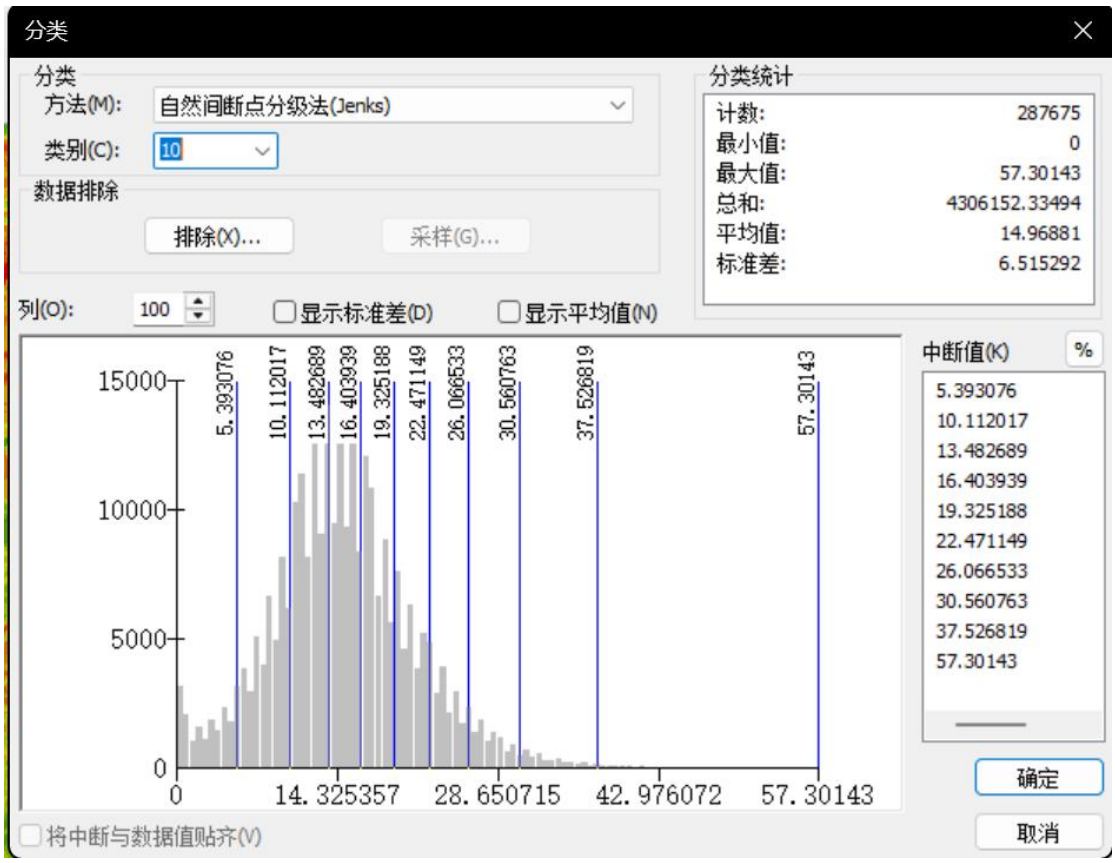
分类
分类
方法(M): 自然间断点分级法(Jenks)
类别(C): 10
数据排除
排除(X)...
采样(G)...
列(O): 100
显示标准差(D)
显示平均值(N)
分类统计
计数: 287675
最小值: 0
最大值: 57.30143
总和: 4306152.33494
平均值: 14.96881
标准差: 6.515292
15000
10000
5000
0
5.393076
10.112017
13.482689
16.403939
19.325188
22.471149
26.066533
30.560763
37.526819
57.30143
0
14.325357
28.650715
42.976072
57.30143
中断值(K)
%
5.393076
10.112017
13.482689
16.403939
19.325188
22.471149
26.066533
30.560763
37.526819
57.30143
确定
取消
将中断与数据值贴齐(V)

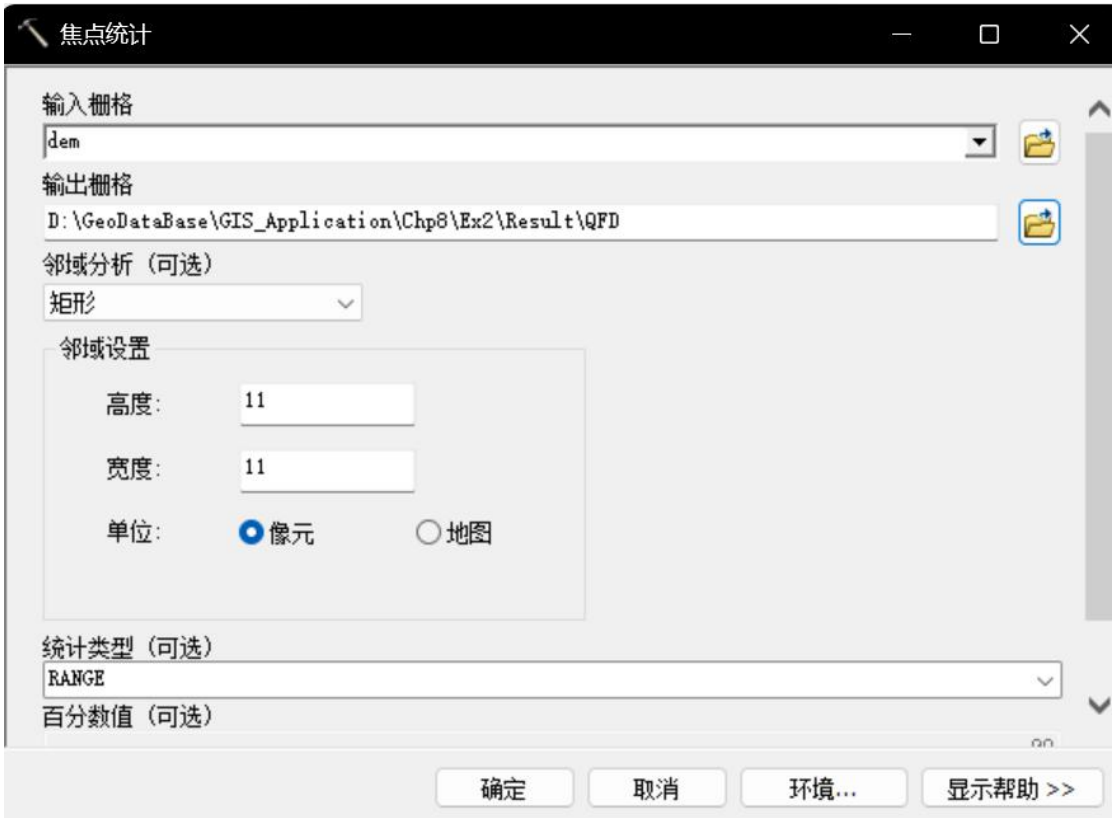
焦点统计
输入栅格
dem
输出栅格
D:\GeoDataBase\GIS_Application\Chp8\Ex2\Result\QFD
邻域分析（可选）
矩形
邻域设置
高度: 11
宽度: 11
单位: 像元 地图
统计类型（可选）
RANGE
百分数值（可选）
确定
取消
环境...
显示帮助 >>

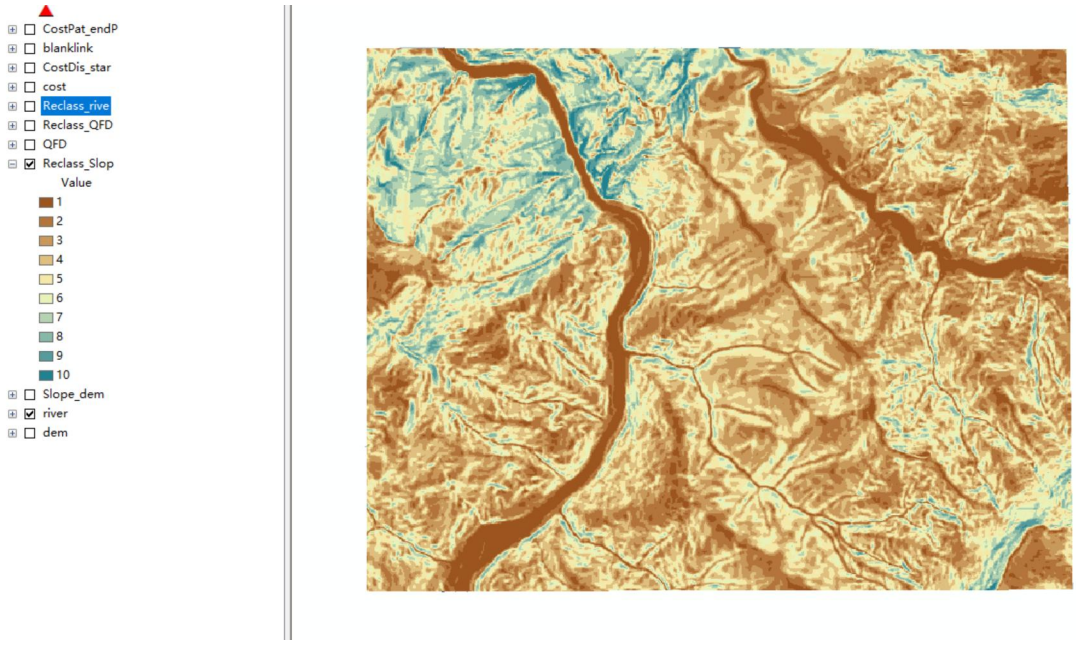
CostPat_endP
blanklink
CostDis_star
cost
Reclass_rive
Reclass_QFD
QFD
Reclass_Slop
Value
1
2
3
4
5
6
7
8
9
10
Slope_dem
river
dem

2.2 起伏度成本数据集

重分类
输入栅格
QFD
重分类字段
Value
重分类
旧值
新值
0 - 8.480011
1
8.480011 - 13.52002
2
13.52002 - 17.320038
3
17.320038 - 20.680023
4
20.680023 - 24.200012
5
24.200012 - 28.480011
6
28.480011 - 33.600006
7
33.600006 - 40.000015
8
分类...
唯一
添加条目
删除条目
加载...
保存...
对新值取反
精度...
输出栅格
C:\Users\29665\Documents\ArcGIS\Default.gdb\Reclass_QFD2
确定
取消
环境...
显示帮助 >>

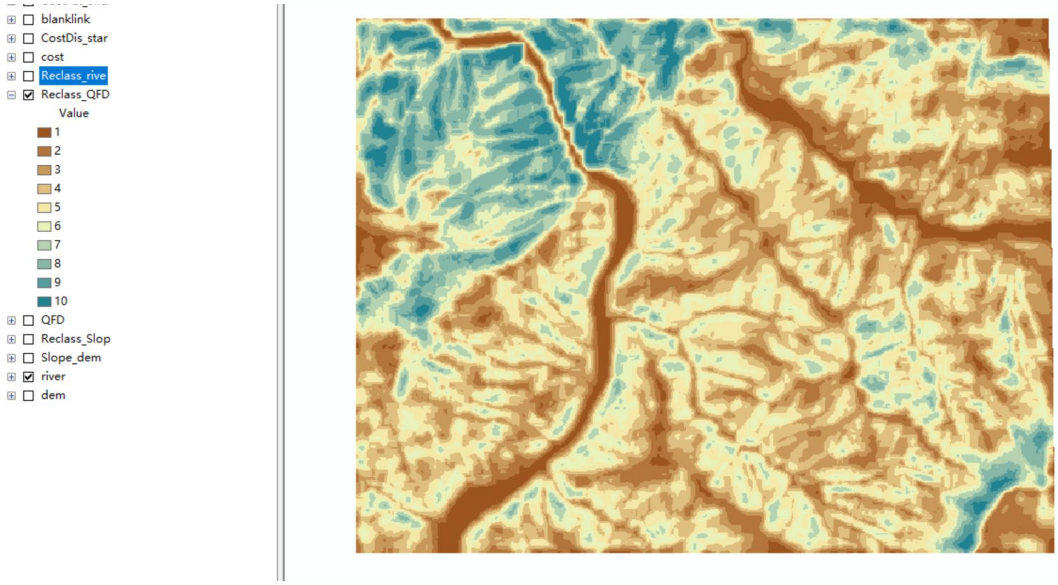
blanklink
CostDis_star
cost
Reclass_rive
Reclass_QFD
Value
1
2
3
4
5
6
7
8
9
10
QFD
Reclass_Slop
Slope_dem
river
dem

2.3 河流成本数据集

重分类
输入栅格
river
重分类字段
Value
重分类
旧值
新值
0
1
1
2
2
5
3
8
4
10
NoData
NoData
分类...
唯一
添加条目
删除条目
加载...
保存...
对新值取反
精度...
输出栅格
D:\GeoDataBase\GIS_Application\Chp8\Ex2\Result\Reclass_rive
确定
取消
环境...
显示帮助 >>

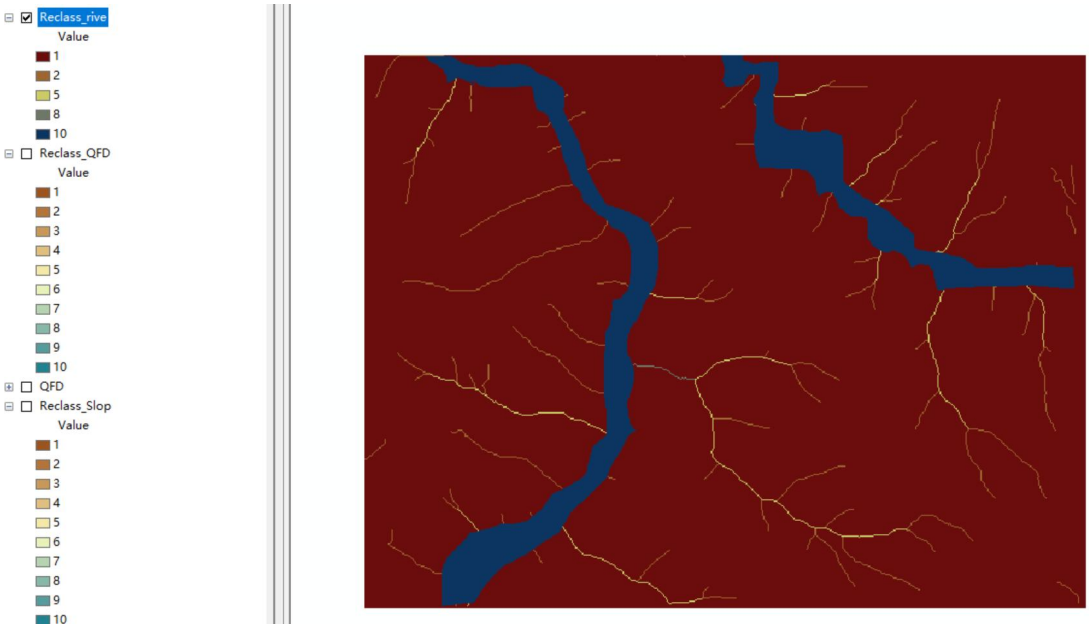

2.3 加权合并单因素成本数据，生成最终成本数据集

- CostDis_star
  - 0 - 1,673.316211
  - 1,673.316212 - 3,346.632422
  - 3,346.632423 - 5,019.948633
  - 5,019.948634 - 6,693.264844
  - 6,693.264845 - 8,366.581055
  - 8,366.581056 - 10,039.89727
  - 10,039.89728 - 11,713.21348
  - 11,713.21349 - 13,386.52969
  - 13,386.5297 - 15,059.8459
  - 15,059.84591 - 16,733.16211
- cost
- Reclass_rive
- Reclass_QFD
- QFD
- Reclass_Slop
- Slope_dem
- river
- dem



- blanklink
  - 源(0)
  - 右(1)
  - 右下角(2)
  - 下(3)
  - 左下角(4)
  - 左(5)
  - 左上角(6)
  - 上(7)
  - 右上角(8)
- CostDis_star
- cost
- Reclass_rive
- Reclass_QFD
- QFD
- Reclass_Slop
- Slope_dem
- river
- dem


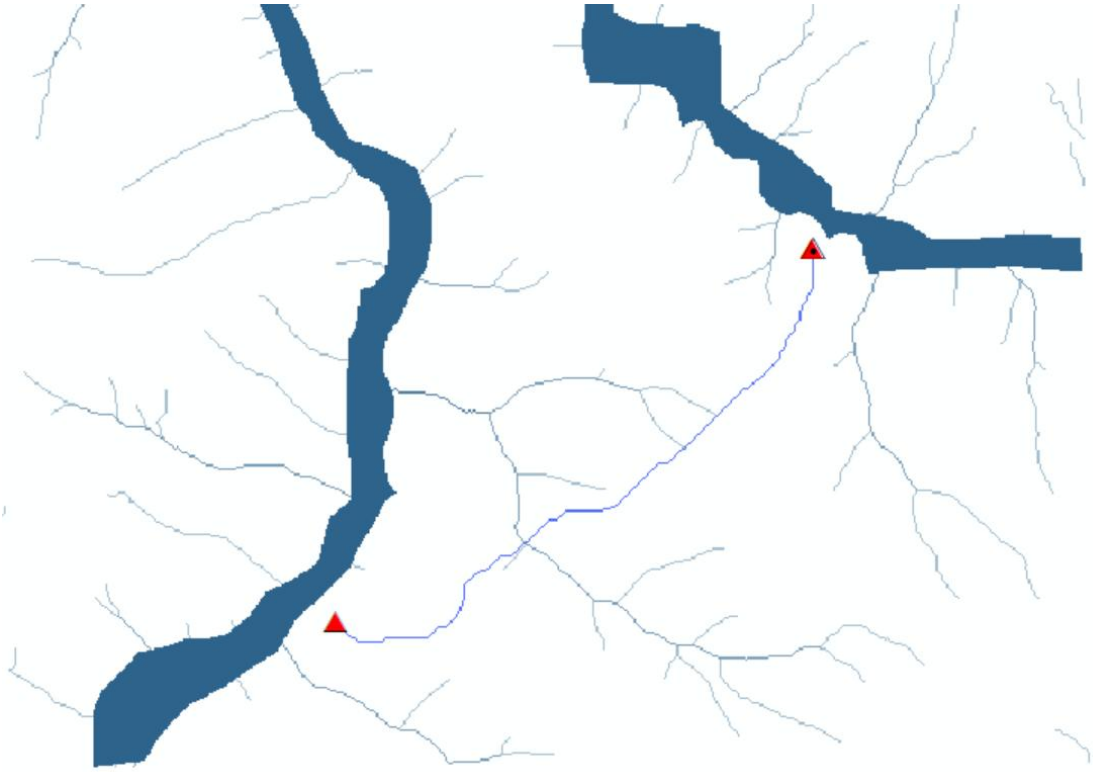
2.4 求取最短路径